Dengue graph of 2008 to 2016

The data

- This Dataset contains the recorded number of dengue cases per 100,000 population per region of the Philippines from 2008 to 2016

Year	Region	Dengue_Cases
2008	Region.I	2.953926
2008	Region.I	2.183336
2008	Region.I	0.97241
2008	Region.I	9.357156
2008	Region.I	7.320599
2008	Region.I	4.513452
2008	Region.I	6.82522
2008	Region.I	9.210377
2008	Region.I	13.301839
2008	Region.I	1.724652
2008	Region.I	1.32101
2008	Region.I	1.0458
2009	Region.I	5.23598
2009	Region.I	3.719351
2009	Region.I	2.473549
2009	Region.I	3.051313
2009	Region.I	4.658217
2009	Region.I	6.644278

Line Graph.

- This shows the average annual dengue incidence rate per 100,000 population across all Philippine regions from 2008 to 2016. The trend reflects changes in dengue intensity over time, independent of regional population size.

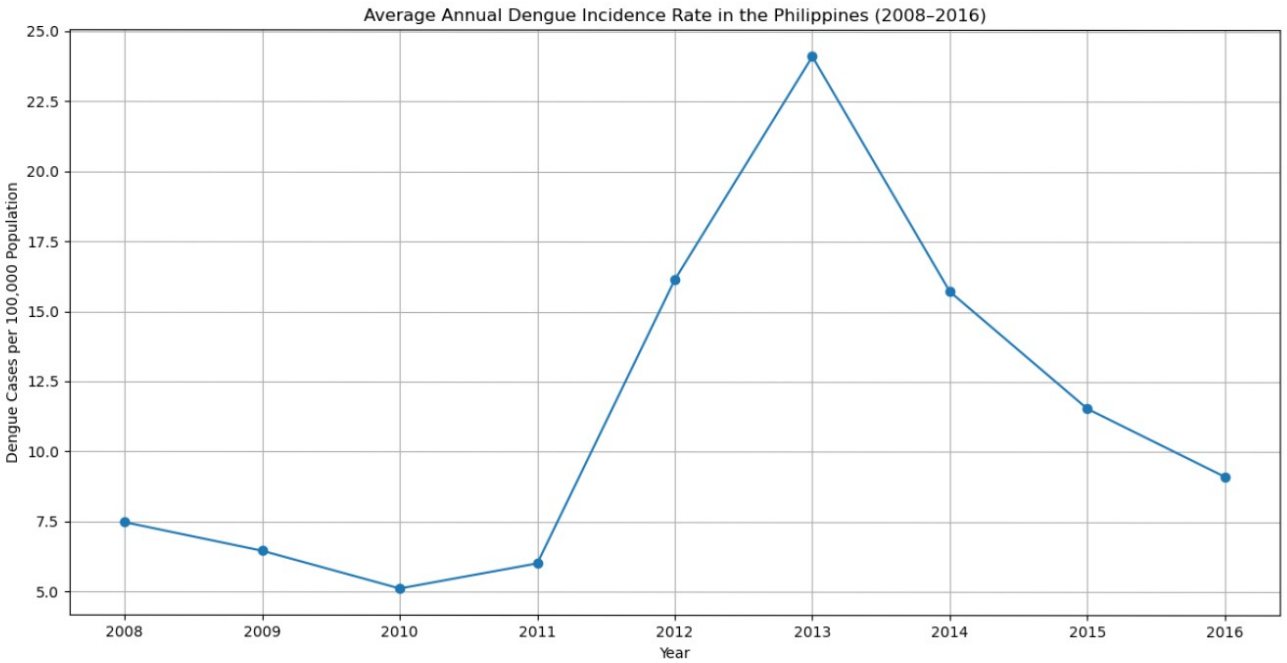

Line Graph.

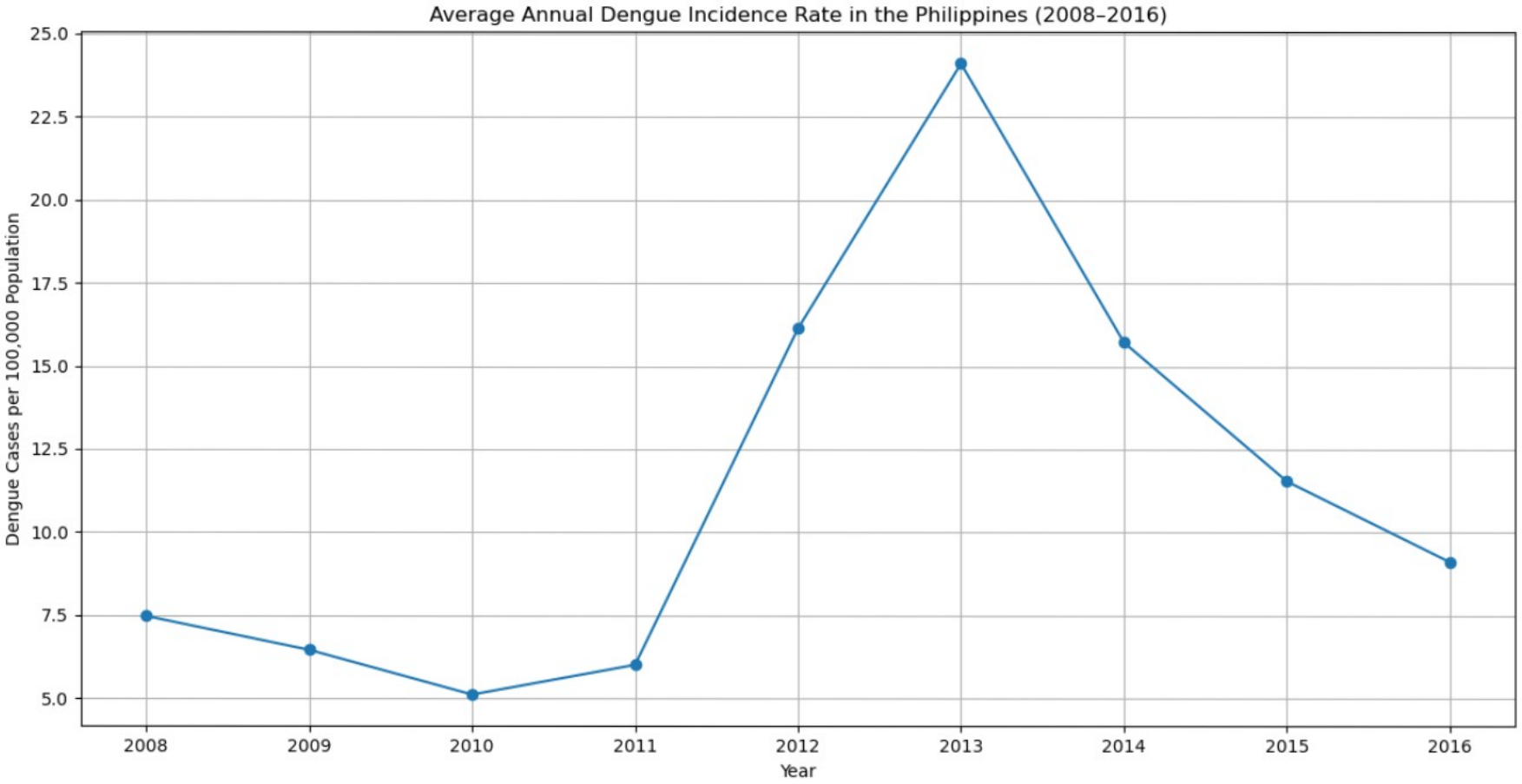
Average Annual Dengue Incidence Rate in the Philippines (2008–2016)
Dengue Cases per 100,000 Population
25.0
22.5
20.0
17.5
15.0
12.5
10.0
7.5
5.0
2008
2009
2010
2011
2012
2013
2014
2015
2016
Year

Per region bar Graph.

- This shows the cumulative dengue incidence rate per 100,000 population for each Philippine region from 2008 to 2016. Higher values indicate regions that consistently experienced higher dengue incidence relative to their population size.

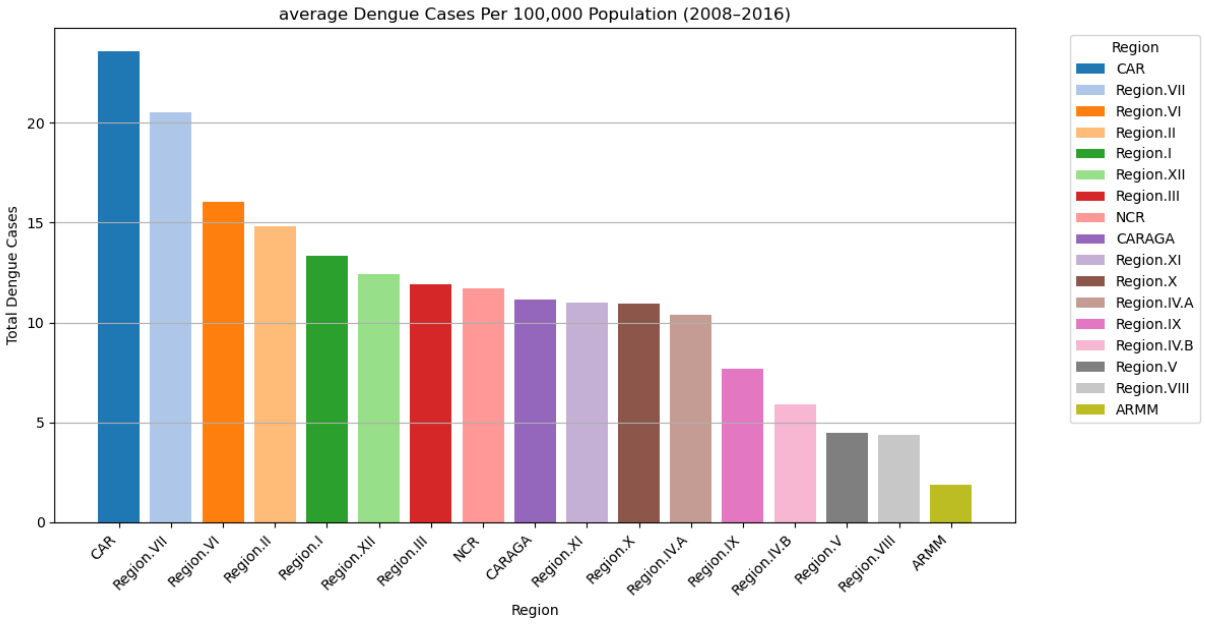

Per region bar Graph.

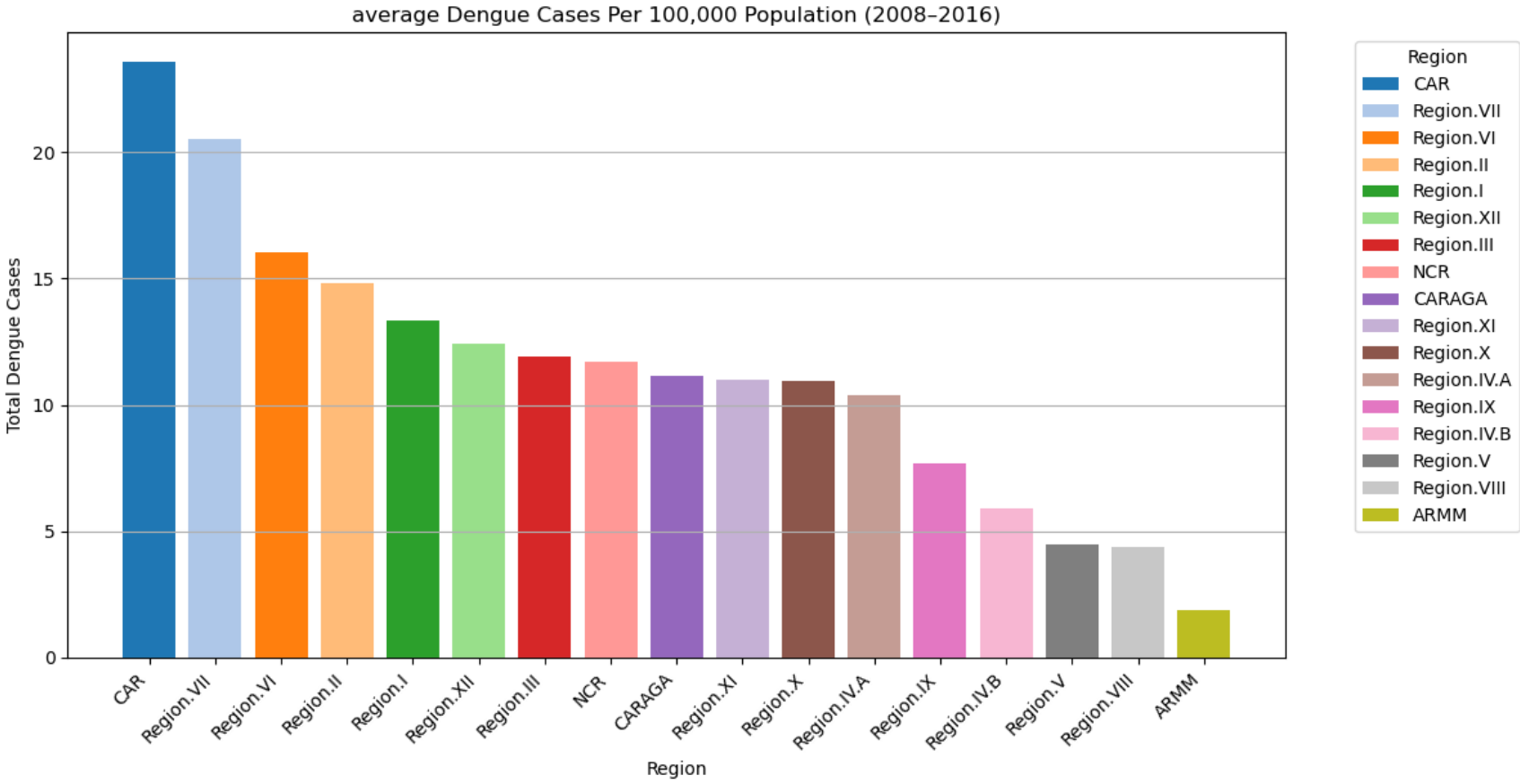

Why Line Graph?

- Show changes over time
- Clearly display year-to-year trends in dengue incidence
- Make it easy to identify peaks, declines, and long-term patterns
- Supports comparison across years without visual clutter

Why Bar Graph?

- Compare regions
- Bar graphs allow direct comparison between categories
- Effectively highlight regional differences in dengue burden
- Summarizing data as averages reduces noise from monthly fluctuations
- Easy to interpret for both technical and non-technical audiences

Goodbye and we will end this

- Source Codes for learning opps:
  - https://github.com/AlieeLinux/Visualization-Course-IDK